APO REEF NATURAL PARK

RA 11038 (ENIPAS Act of 2018)

MIMAROPA Municipality of Sablayan, Occidental Mindoro

Global Recognition: *Blue Parks Awardee and ASEAN Heritage Park*

AVAILABLE PAMO DOCUMENTS

Check the box only if available AND applicable in your PAMO

- ☑ Protected Area Management Plan
- ☑ PAMB Operations Manual
- ☑ Ecotourism Management Plan
- ☑ Protected Area Financial Plan

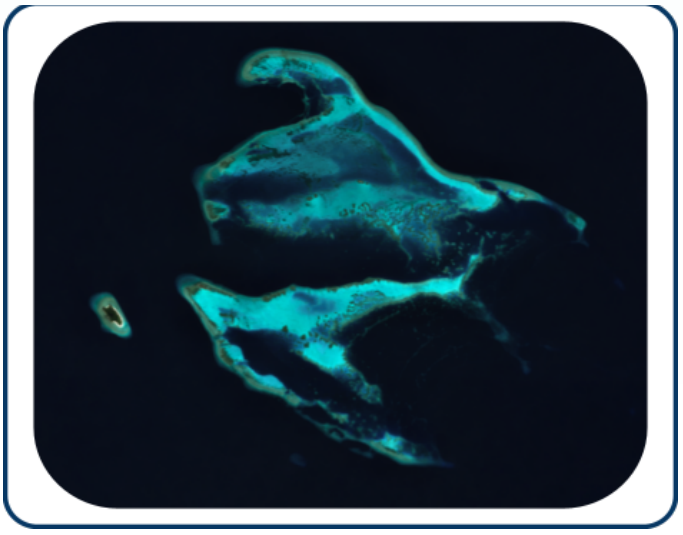

LOCATION AND AREA COVER

	No.	List
Barangays	1	Sta. Lucia
Municipalities	1	Sablayan
Province/s	1	Occidental Mindoro

TOTAL AREA BASED ON ECOSYSTEM

	Ha.	Ecosystems
Terrestrial	25.58	Apo island(22.67 has.); Apo Menor (2.63 has.); Cayos del Bajo (0.28 has.)
Coastal and Marine	15,773.65	Mangrove forest - 9.54 has. Beach forest - 5.1 has. Lagoon - 1.34 has. Coral reefs - 6,538 has.
TOTAL	**15,799.23 ha.**	

ZONING MAP

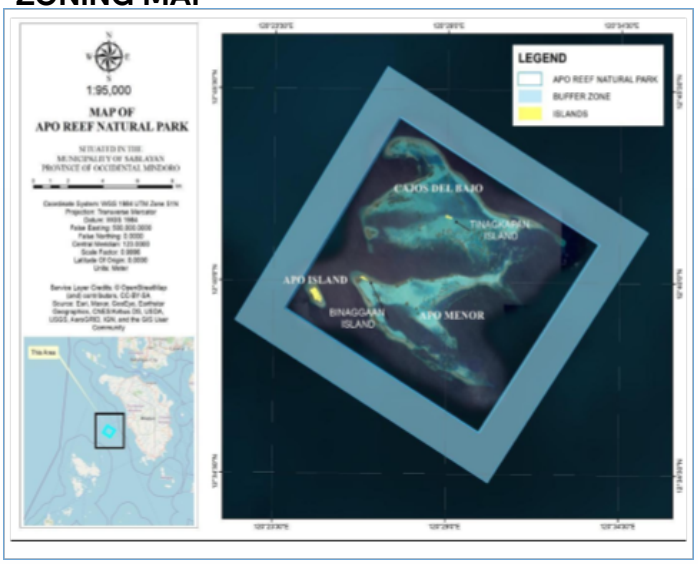

PA MANAGEMENT ZONES

	Ha.	Description
Strict Protection Zone (SPZ)	5,469	Apo island, Apo Menor, west of Cayos del Bajo; shallow coral reefs; most are wildlife habitats and nesting sites
Multiple Use Zone (MUZ)	10,151	Ecotourism (diving), navigational lane, monitoring sites, patrol sites

CURRENT STAFFING COMPLEMENT

	No.	Plantilla	No.	JO/COS	No.
PASU	1	**Technical**	2	**Technical**	3
APASu	-	**PA Ranger**	2	**PA Ranger**	13
		Admin	1	**Admin**	5
TOTAL NO. OF STAFF: 27					

2025 BUDGET ALLOCATION

Source	Amount (PhP)
IPAF-RIA	8,422,000.00
IPAF-SAGF	0
GAA	6,355,000.00
LGU Co-financing	0
Others	0
TOTAL	**14,777,000.00**

BIOPHYSICAL PROFILE

PRIORITY SPECIES *(Top 5)*

List of Priority Flora Species	*Conservation Status*
1. *Pemphis acidula* 'Bantigi'	EN-Endanger...
2. *Rhizophora stylosa**	LC-Least Con...
3. *Rhiziphora apiculata**	LC-Least Con...
4. *Rhizophora mucronata**	LC-Least Con...
5. *Sonneratia alba**	LC-Least Con...

List of Priority Fauna Species	*Conservation Status*
1. Napoleon Wrasse (*Cheilinus undulatus*), 'Mameng'	EN-Endanger...
2. Bumphead parrotfish (*Bolbometopon muricatum*)	VU-Vulnerable
3. Hawksbill turtle (*Eretmochelys imbricata*)	CR-Critically ...
4. Giant clam (*Tridacna gigas*)	CR-Critically ...
5. Corals	N/A

ECOSYSTEM SERVICES

List Ecosystem Services

- **Supporting services**:
  - Coral reefs serve as habitat, breeding & spawning ground, and food source for fish, invertebrates, and other species at ARNP
  - Islands serve as habitat and nesting ground for seabirds, and sea turtles
  - ARNP's lagoon with mangrove forest acts as shelter from predators for juvenile species of fish, sharks, and rays.
  - Mangrove forests serve as habitat for migratory birds, shorebirds, and snakes like the Bronzeback tree snake (*Dendrelaphis tristis*)
- **Regulating services**
  - Coral reefs reduce wave action and reduces shore erosion: Terns and sea turtles lay eggs on the beach, thus this is important
- **Provisioning services**
  - Provides food and livelihood opportunities. Since ARNP is a no-take zone, fish populations thrive, resulting in a spillover effect to adjacent areas.
  - Provides employment (PAMO rangers, staff, tour operators)
- **Cultural services**
  - Tourism (SCUBA diving, snorkeling, freediving, sightseeing)
  - Scientific value - ARNP has been a study site for many research with partner academes

Note:
- Flora *priority sp no. 1* 'Bantigi' is Endangered as per DAO 2017-11 but Least Concern by IUCN
- Mangroves as an ecosystem is Vulnerable
- *based on the IUCN List of Threatened Species

SOCIO-ECONOMIC AND CULTURAL PROFILE

PA OCCUPANTS (SRPAO/SEAMS)

No. of Households	N/A
No. of Tenured Migrants	N/A
No. of Non-Tenured Migrants	N/A
No. of ICCs/IPs	N/A
Total Area (Homelots and Farmlots)	N/A

BIODIVERSITY FRIENDLY ENTERPRISES (BDFE)

No. of Eligible BDFEs	1 (Outside PA)
Total Area (ha)	12.85
Total No. of beneficiaries (Total PO members)	

PA COMMUNITY-BASED RESOURCE MANAGEMENT AGREEMENT (PACBRMA)

No. of PACBRMA	N/A
Total Area (ha)	N/A
Total No. of beneficiaries (Total PO members)	N/A
No. of PACBRMAs eligible as BDFEs	N/A

EXISTING RIGHTS

	Total Area (ha)
Ancestral Domain (CADT/CALT)	N/A
Titled Properties	N/A

SUSTAINABLE FINANCING

SPECIAL USE AGREEMENT IN PAs (SAPA)

No. of Approved SAPA	N/A
Total area cover (ha)	N/A
Total Annual Fee	N/A

INTEGRATED PROTECTED AREA FUND (IPAF)

	2022	*2023*	*2024*
IPAF Collection	1,376,062.00	5,635,388.00	5,053,790.37
PA-RIA Utilization	3,940,895.11	4,240,643.61	2,281,505.20

ECOTOURISM MANAGEMENT

Average annual visitor	2,956 tourist visitors annually were recorded, 55.27% of which are local tourists while 44.73%
Average annual income from ecotourism activities	4,021,746.00
No. of ecotourism facilities	6

List of Ecotourism Activities		
• SCUBA Diving • Freediving	• Snorkeling • Swimming • Bird Watching	• Sunset and Sunrise Viewing • Island Hopping

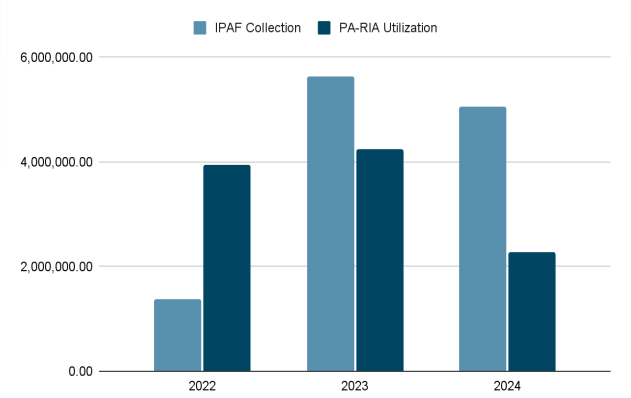

Note: Ecotourism operations resumed in April 2022 after being suspended due to the COVID-19 pandemic.

EXISTING INFRASTRUCTURES AND FACILITIES

Type of Infrastructure/Facilities	Total No.	No. with ECC	No. with PAMB clearance/ PAMB endorsement	Issued with Cease and Desist Order (CDO)	Issued with Notice of Violation (NoV)
Roads	N/A	N/A	N/A	N/A	N/A
Schools	N/A	N/A	N/A	N/A	N/A
Commercial buildings	N/A	N/A	N/A	N/A	N/A
Residential buildings	N/A	N/A	N/A	N/A	N/A
Others (Government facility)	26	2	2	-	-
TOTAL	**26**	**2**	**2**	**-**	-

SITE-SPECIFIC CHALLENGES, ISSUES AND CONCERNS

SITE-SPECIFIC CHALLENGES, ISSUES AND CONCERNS	REMARKS ACTIONS TAKEN, PROPOSED STRATEGIES, INNOVATIONS OR IMPROVEMENTS
Illegal fishing activities	Regular seaborne patrolling during day and night
Lack of permanent PAMO Staff	Regular employees from CENRO Sablayan and RO were assigned to PAMO; Hiring of CoS charged under the Regular Fund and IPAF PA RIA
Lack of Highspeed Watercraft	Request for APMV from DBM was submitted; coordination and partnership with potential donors of highspeed watercraft
Level of oil and grease in the waters of ARNP, based on conducted Water Quality Monitoring, exceeded the standard measure of parameter based on DAO 2016-08 as amended by DAO 2021-19	Establish additional water sampling sites to generate more accurate parameter results

LIST OF REFERENCES: PA Management Plan, 2022-2031; Comprehensive Assessment of Marine and Coastal Resources of Apo Reef Natural Park, 2017; Vulnerability Assessment of Apo Reef Natural Park, 2017; DAO 2019-09: Updated National List of Threatened Fauna; DAO 2017-11: Updated National List of Threatened Philippine Plants and their Categories; DAO 2016-08: Water Quality Guidelines and General Effluent Standards; IUCN List of Threatened Species