MT. CALAVITE WILDLIFE SANCTUARY

RA 11038 (ENIPAS Act of 2018)

MIMAROPA Municipality of Paluan, Occidental Mindoro

AVAILABLE PAMO DOCUMENTS

Check the box only if available AND applicable in your PAMO

- ☑ Protected Area Management Plan
- ☑ PAMB Operations Manual
- ☑ Ecotourism Management Plan
- ☑ Protected Area Financial Plan



LOCATION AND AREA COVER

	No.	List
Barangays	3	Harrison, Alipaoy, Mananao
Municipalities	1	Paluan
Province/s	1	Occidental Mindoro

TOTAL AREA BASED ON ECOSYSTEM

	Ha.	Ecosystems
Terrestrial	18,172.69	*Grassland, Open Forest, tropical lowland rainforest*
Coastal and Marine	-	
TOTAL	**18,172.69 ha.**	

PA MANAGEMENT ZONES

	Ha.	Description
Strict Protection Zone (SPZ)	10,334.69	*High biodiversity area, closed to all human activities except for scientific studies and/or ceremonial or non-extractive use by the IP*
Multiple Use Zone (MUZ)	7,838	*Ecotourism, agricultural lands*

CURRENT STAFFING COMPLEMENT

	No.	Plantilla	No.	JO/COS	No.
PASU	1	**Technical**	2	**Technical**	2
APASu	0	**PA Ranger**	0	**PA Ranger**	11
		Admin	0	**Admin**	1
TOTAL NO. OF STAFF: 17					

ZONING MAP

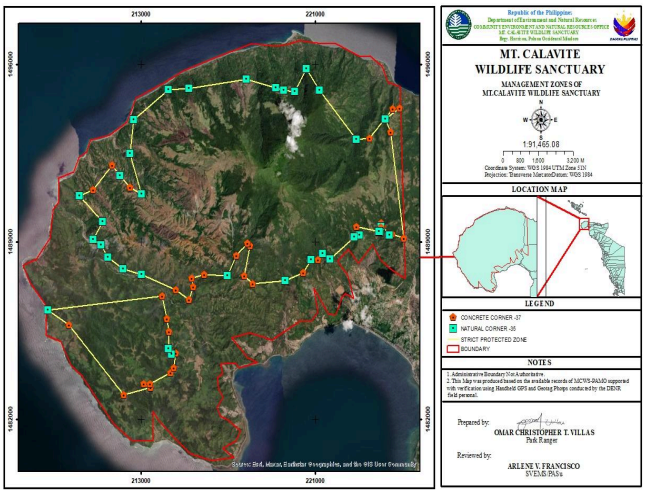

2025 BUDGET ALLOCATION

Source	Amount (PhP)
IPAF-RIA	None
IPAF-SAGF	None
GAA	4,672,000.00
LGU Co-financing	None
Others	None
TOTAL	**4,672.000.00**

BIOPHYSICAL PROFILE

PRIORITY SPECIES *(Top 5)*

List of Priority Flora Species	*Conservation Status*
1. Red Lauan (*Shorea negrosensis*)	LC-Least Co...
2. White Lauan (*Shorea contorta*)	VU-Vulnera...
3. Narra (*Pterocarpus indicus*)	VU-Vulnera...
4. Kamagong (*Diospyros discolor*)	VU-Vulnera...
5. Molave (*Vitex parviflora*)	EN-Endange...

List of Priority Fauna Species	*Conservation Status*
1. *Mindoro Hornbill (Penelopides mindorensis)*	EN-Endang...
2. Long-tailed Macaque (*Macaca fascicularis*)	LC-Least C...
3. Mindoro Warty Pig (*Sus oliveri*)	EN-Endang...
4. Mindoro Racket-tail Parrot (*Prioniturus mindorensis*)	VU-Vulnera...
5. Mindoro Imperial Pigeon (*Ducula mindorensis*)	EN-Endang...

ECOSYSTEM SERVICES

List Ecosystem Services		
• Watershed services to the municipality of Paluan • Food Provision for the IP Community	• Non-Timber Forest Product (NTFP) Provision • Climate and Flood Regulation • Ecotourism • Cultural Value	• Educational and research • Habitat provision (Mindoro Warty Pig, Mindoro Hornbill, and Mindoro Imperial Pigeon) • Home of iraya Mangyan Tribe of Paluan

SOCIO-ECONOMIC AND CULTURAL PROFILE

PA OCCUPANTS (SRPAO/SEAMS)

No. of Households	582
No. of Tenured Migrants	54
No. of Non-Tenured Migrants	-
No. of ICCs/IPs	2,492
Total Area (Homelots and Farmlots)	77.02

PA COMMUNITY-BASED RESOURCE MANAGEMENT AGREEMENT (PACBRMA)

No. of PACBRMA	-
Total Area (ha)	-
Total No. of beneficiaries (Total PO members)	-
No. of PACBRMAs eligible as BDFEs	-

BIODIVERSITY FRIENDLY ENTERPRISES (BDFE)

No. of Eligible BDFEs	2
Total Area (ha)	73.03
Total No. of beneficiaries (Total PO members)	101

EXISTING RIGHTS

	Total Area (ha)
Ancestral Domain (CADT/CALT)	**18,172.69**
Titled Properties	**177.854**

List of ICCs/IPs
Iraya

SUSTAINABLE FINANCING

SPECIAL USE AGREEMENT IN PAs (SAPA)

No. of Approved SAPA	-
Total area cover (ha)	-
Total Annual Fee	-

INTEGRATED PROTECTED AREA FUND (IPAF)

	2022	*2023*	*2024*
IPAF Collection	**125**	**45**	50
PA-RIA Utilization	**375**	**135**	150

Type of Existing Projects/Facilities within PA
• Small Water Impounding System (SWIS) • Old and New Lighthouse • 76 IB Infantry Battalion

ECOTOURISM MANAGEMENT

Average annual visitor	1
Average annual income from ecotourism activities	150
No. of ecotourism facilities	0

List of Ecotourism Activities
• Hiking (Eagle Rock Formation) • Camping (Sagbatan Area, Matinggaram) • Swimming (Agbokbok Falls) • Birding (Igmanukan Lake)

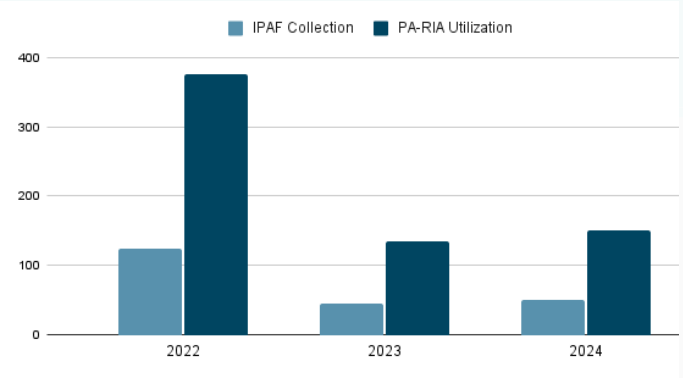

Note: MCWS is still closed for ecotourism and will open upon the approval of Protected Area Management Board tentatively in 2026

EXISTING INFRASTRUCTURES AND FACILITIES

Type of Infrastructure/Facilities	Total No.	No. with ECC	No. with PAMB clearance/ PAMB endorsement	Issued with Cease and Desist Order (CDO)	Issued with Notice of Violation (NoV)
Roads	2	none	none	N/A	N/A
Schools	8	none	none	N/A	N/A
Commercial buildings	7	none	none	N/A	N/A
Residential buildings	582	none	none	N/A	N/A
Others	21	none	none	N/A	N/A
TOTAL	**620**	**NONE**	**NONE**	**N/A**	**N/A**

SITE-SPECIFIC CHALLENGES, ISSUES AND CONCERNS

SITE-SPECIFIC CHALLENGES, ISSUES AND CONCERNS (TOP 5)	REMARKS ACTIONS TAKEN, PROPOSED STRATEGIES, INNOVATIONS OR IMPROVEMENTS
Timber Poaching	Implementation of the Multi-Sectoral Task Force of Mt. Calavite Wildlife Sanctuary alongside continuous monitoring and foot patrolling of MCWS Park Rangers
Charcoal Making	Provide sustainable livelihood trainings and capacity building for IP settlers
Slash and burn Agriculture	
Unregulated grazing activities	Allot or set boundaries for grazing activities, regular monitoring and foot patrolling
Insufficient support from local communities	Harmonization of policies, plans, and programs and creation of management plan on sustainable resource management

LIST OF REFERENCES

PA Management Plan (2017-2021); SRPAO/SEAMS (2023); BAMS (2023); PAIS DAO 2019-09: Updated National List of Threatened Fauna; AND DAO 2017-11: Updated National List of Threatened Philippine Plants and their Categories