RAJAH SIKATUNA PROTECTED LANDSCAPE

RA 11038 (ENIPAS Act of 2018)

Region 7 Municipalities of Bilar, Batuan, Carmen, Sierra Bullones, Dimiao, Valencia, Garcia Hernandez, Bohol

AVAILABLE PAMO DOCUMENTS

Check the box only if available AND applicable in your PAMO

- ☑ Protected Area Management Plan
- ☑ PAMB Operations Manual
- ☑ Ecotourism Management Plan
- ☐ Protected Area Financial Plan



LOCATION AND AREA COVER

	No.	List
Barangays	32	
Municipalities	7	Bilar, Batuan, Carmen, Sierra Bullones, Dimiao, Valencia, Garcia Hernandez
Province/s	1	**Bohol**

TOTAL AREA BASED ON ECOSYSTEM

	Ha.	Ecosystems
Terrestrial	10,964.64	*Karst/ Forest over limestone*
Coastal and Marine		*N/A*
TOTAL	**10,964.64 ha.**	

PA MANAGEMENT ZONES

	Ha.	Description
Strict Protection Zone (SPZ)	9,174.81	*Natural vegetation; Habitats of endemic threatened species Steep slopes over 50%; Areas prone to natural and man-made hazards; Permanent danger zones; Easement of inland wetland; Class 1 and unclassified caves*
Multiple Use Zone (MUZ)	1,899.83	*Ecotourism area; Existing settlements, community centers PACBRMA Areas; Previously classified as A&D Lands; Areas planted with exotic species*

CURRENT STAFFING COMPLEMENT

	No.	Plantilla	No.	JO/COS	No.
PASU	1	**Technical**	0	**Technical**	5
APASu	1	**PA Ranger**	0	**PA Ranger**	9
		Admin	0	**Admin**	1
TOTAL NO. OF STAFF: 17					

ZONING MAP

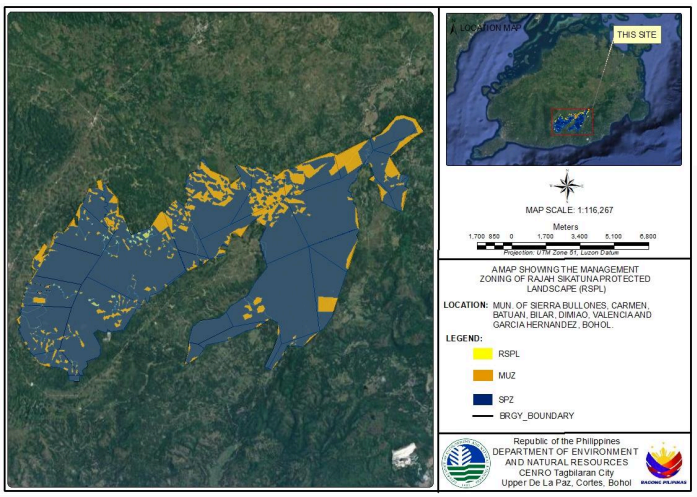

2025 BUDGET ALLOCATION

Source	Amount (PhP)
IPAF-RIA	1, 408, 000.00
IPAF-SAGF	0
GAA	5,727, 610.00
LGU Co-financing	0
Others	0
TOTAL	**7,135,610.00**

BIOPHYSICAL PROFILE

PRIORITY SPECIES *(Top 5)*

List of Priority Flora Species	*Conservation Status*
1. White Lauan (*Shorea contorta*)	VU-Vulnera...
2. Narig (*Vatica mangachapoi*)	EN-Endang...
3. Mangachapui (*Hopea acuminata*)	EN-Endang...
4. Gisok- gisok (*Hopea philippinensis*)	CR-Criticall...
5. Quisumbing Guisok (*Hopea quisumbingiana*)	CR-Criticall...

List of Priority Fauna Species	*Conservation Status*
1. Bohol sunbird (*Aethopyga decorosa*)	OTS-Other Th...
2. Azure-breasted pitta (*Pitta steerii*)	VU-Vulnerable
3. Samar Hornbill (*Penelopides samarensis*)	VU-Vulnerable
4. Mindanao Bleeding Heart Pigeon (*Gallicolumba criniger*)	VU-Vulnerable
5. Rufous-lored kingfisher (*Todiramphus winchelli*)	VU-Vulnerable

ECOSYSTEM SERVICES

List Ecosystem Services	
• Habitat of important species • Biodiversity conservation and research • Water resources coming from the 3 Major Watershed within the PA (Loboc Manaba and Wahig- Inabanga Watershed)	• Food (Non-timber forest products) • Environmental Regulation • Recreation/Ecotourism services • Medicine

SOCIO-ECONOMIC AND CULTURAL PROFILE

PA OCCUPANTS (SRPAO/SEAMS)

No. of Households	560
No. of Tenured Migrants	98
No. of Non-Tenured Migrants	217
No. of ICCs/IPs	NA
Total Area (Homelots and Farmlots)	**795.86 ha**

PA COMMUNITY-BASED RESOURCE MANAGEMENT AGREEMENT (PACBRMA)

No. of PACBRMA	5
Total Area (ha)	874.76
Total No. of beneficiaries (Total PO members)	369
No. of PACBRMAs eligible as BDFEs	NA

BIODIVERSITY FRIENDLY ENTERPRISES (BDFE)

No. of Eligible BDFEs	1
Total Area (ha)	0.003
Total No. of beneficiaries (Total PO members)	53

EXISTING RIGHTS

	Total Area (ha)
Ancestral Domain (CADT/CALT)	**NA**
Titled Properties	**NA**

List of ICCs/IPs
NA

SUSTAINABLE FINANCING

SPECIAL USE AGREEMENT IN PAs (SAPA)

No. of Approved SAPA	0
Total area cover (ha)	NA
Total Annual Fee	NA

INTEGRATED PROTECTED AREA FUND (IPAF)

	2022	*2023*	*2024*
IPAF Collection	363,680.00	1,397,225.00	2,137,115.00
PA-RIA Utilization	465,000	847,000	1,009,000

Type of Existing Projects/Facilities within PA	
• RSPL PAMO Entrance • Information Center • Parking Areas • Circumferential Road • Guard House • New Duplex Building • Old Duplex Building • Nature Center • Kitchen	• Multi-Purpose Building • Viewing Deck • Comfort Room 1 • Comfort Room 2 • Bathroom • Water System • Ecotourism Trail • Swimming pool from natural spring

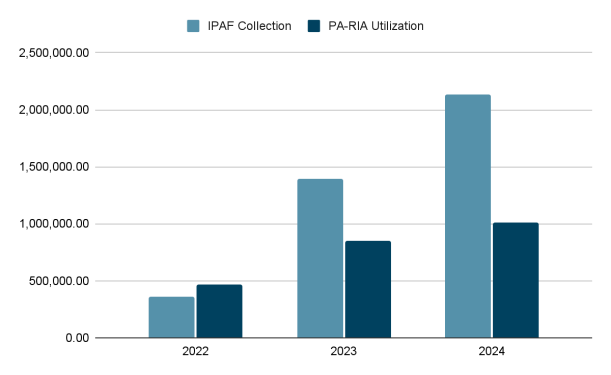

ECOTOURISM MANAGEMENT

Average annual visitor	4,586
Average annual income from ecotourism activities	178, 092.92
No. of ecotourism facilities	17

List of Ecotourism Activities
• Bird Watching • camping • Hiking within ecotourism trail • Night safari • Swimming

EXISTING INFRASTRUCTURES AND FACILITIES

Type of Infrastructure/Facilities	Total No.	No. with ECC	No. with PAMB clearance/ PAMB endorsement	Issued with Cease and Desist Order (CDO)	Issued with Notice of Violation (NoV)
Roads	**13**	**0**	**0**	**0**	0
Schools	**1**	**0**	**0**	**0**	0
Commercial buildings	**42**	**0**	**1**	**0**	5
Residential buildings	**341**	**0**	**0**	**0**	0
Others	**125**	**0**	**8**	**0**	0
TOTAL	**522**	**0**	**9**	**0**	5

SITE-SPECIFIC CHALLENGES, ISSUES AND CONCERNS

SITE-SPECIFIC CHALLENGES, ISSUES AND CONCERNS (TOP 5)	REMARKS ACTIONS TAKEN, PROPOSED STRATEGIES, INNOVATIONS OR IMPROVEMENTS
Titled lots within PA	Monitor and inventory all titleholders
PAMO lacks equipment and manpower to fully monitor the whole area	To ask for support to operations in maintaining and monitoring the areas of jurisdiction
Weak participation of some PAMB Members during PAMB Meetings	Follow up PAMB Members and reiterate their roles and responsibilities as members

LIST OF REFERENCES

PA Management Plan (2023-2033); SRPAO/SEAMS; BAMS; **DAO 2019-09:** Updated National List of Threatened Fauna;
DAO 2017-11: Updated National List of Threatened Philippine Plants and their Categories