MABINI PROTECTED LANDSCAPE AND SEASCAPE

RA 11038 (ENIPAS Act of 2018)

Region 11 Municipality of Mabini, Davao de Oro

AVAILABLE PAMO DOCUMENTS

Check the box only if available AND applicable in your PAMO

- ☑ Protected Area Management Plan
- ☑ PAMB Operations Manual
- ☑ Ecotourism Management Plan
- ☑ Protected Area Financial Plan



LOCATION AND AREA COVER

	No.	List
Barangays	6	Cadunan, Cuambog, Del Pilar, San Antonio, Pindasan, Tagnanan
Municipalities	1	Mabini
Province/s	1	Davao de Oro

TOTAL AREA BASED ON ECOSYSTEM

	Ha.	Ecosystems
Terrestrial	N/A	*N/A*
Coastal and Marine	324.29	*Coral reef (149.87 ha.); Seagrass beds (80.75 ha.); Mangrove forest (94.37 ha.)*
TOTAL	**324.29 ha**	

PA MANAGEMENT ZONES

	Ha.	Description
Strict Protection Zone (SPZ)	377.29	*No take zone, any human activities are prohibited for conservation and protection*
Multiple Use Zone (MUZ)	6,915.06	*Ecotourism, livelihood, special use area*

CURRENT STAFFING COMPLEMENT

	No.	Plantilla	No.	JO/COS	No.
PASU	1	**Technical**	2	**Technical**	12
Deputy PASu	1	**PA Ranger**	0	**PA Ranger**	8
		Admin	0	**Admin**	3
TOTAL NO. OF STAFF: 27					

ZONING MAP

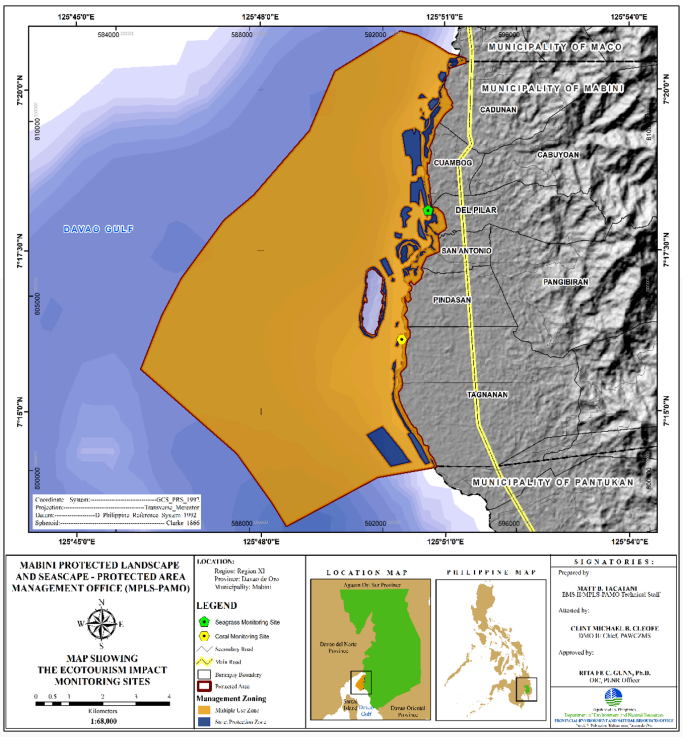

2025 BUDGET ALLOCATION

Source	Amount (PhP)
IPAF-RIA	1,930,346.70
IPAF-SAGF	N/A
GAA	4,351,000.00
LGU Co-financing	N/A
Others	1,944,000
TOTAL	**8,225,346.7**

BIOPHYSICAL PROFILE

PRIORITY SPECIES *(Top 5)*

List of Priority Flora Species	*Conservation Status*
1. **Bakhaw lalaki** (*Rhizophora apiculata*)	LC-Le...
2. **Bakhaw babae** (*Rhizophora mucronata*)	LC-Le...
3. **Pagatpat** (*Sonneratia alba*)	LC-Le...
4. **Tape seagrass** (*Enhalus acoroides*)	LC-Le...
5. **Smooth ribbon seagrass** (*Cymodocea rotundata*)	LC-Le...

List of Priority Fauna Species	*Conservation Status*
1. **Barramundi Cod** (*Cromileptes alteviles*)	DD-Da...
2. **Green Sea Turtle** (*Chelonia mydas*)	LC-Lea...
3. **Olive Ridley Sea Turtle** (*Lepidochelys olivacea*)	VU-Vul...
4. **Hawksbill Sea Turtle** (*Eretmochelys imbricata*)	CR-Cri...

ECOSYSTEM SERVICES

List Ecosystem Services
• 1 Boat Transport Services • 2 Diving Services • 3 Accommodation Services • 4 Waste Management and Clean-Up Support

SOCIO-ECONOMIC AND CULTURAL PROFILE

PA OCCUPANTS (SRPAO/SEAMS)

No. of Households	596
No. of Tenured Migrants	78
No. of Non-Tenured Migrants	518
No. of ICCs/IPs	210
Total Area (Homelots and Farmlots)	16.9775 ha

PA COMMUNITY-BASED RESOURCE MANAGEMENT AGREEMENT (PACBRMA)

No. of PACBRMA	N/A
Total Area (ha)	N/A
Total No. of beneficiaries (Total PO members)	N/A
No. of PACBRMAs eligible as BDFEs	N/A

BIODIVERSITY FRIENDLY ENTERPRISES (BDFE)

No. of Eligible BDFEs	1
Total Area (ha)	N/A
Total No. of beneficiaries (Total PO members)	33

EXISTING RIGHTS

	Total Area (ha)
Ancestral Domain (CADT/CALT)	**46.74**
Titled Properties	**146.85**

List of ICCs/IPs
Kagan

SUSTAINABLE FINANCING

SPECIAL USE AGREEMENT IN PAs (SAPA)

No. of Approved SAPA	1
Total area cover (ha)	4,092 sq.m
Total Annual Fee	Php. 875,877.50

Type of Existing Projects/Facilities within PA
• *Businesses* • *Transmission/power lines* • *Residences* • *Government Office* • *School*

INTEGRATED PROTECTED AREA FUND (IPAF)

	2022	*2023*	*2024*
IPAF Collection	3,718,698.73	1,628,071.70	1,949,100.63
PA-RIA Utilization	5,379,000.00	3,988,600.00	2,655,251.00

ECOTOURISM MANAGEMENT

Average annual visitor	405,406
Average annual income from ecotourism activities	720,000
No. of ecotourism facilities	1,278

List of Ecotourism Activities
• 1 Beach Visits/Swimming • 2 Volunteering (Coastal clean-ups/Scubasurero) • 3 CEPA • 4 Research Studies (Bachelors, Masters & Ph.D)

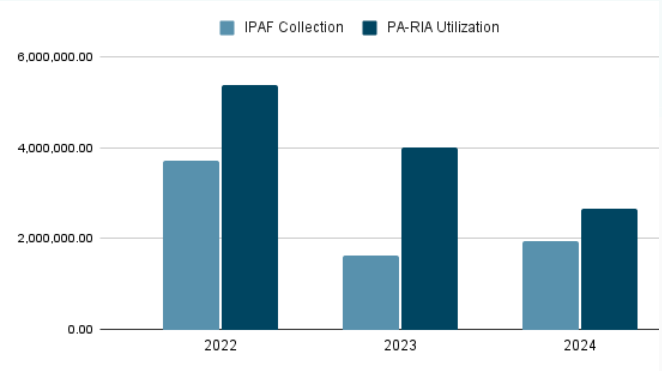

EXISTING INFRASTRUCTURES AND FACILITIES

Type of Infrastructure/Facilities	Total No.	No. with ECC	No. with PAMB clearance/ PAMB endorsement	Issued with Cease and Desist Order (CDO)	Issued with Notice of Violation (NoV)
Roads	1	0	0	0	0
Schools	1	0	0	0	0
Commercial buildings	1487	391	77	2	32
Residential buildings	567	0	0	0	0
Others	135	27	20	0	0
TOTAL	**2,191**	**418**	**97**	**2**	**32**

SITE-SPECIFIC CHALLENGES, ISSUES AND CONCERNS

SITE-SPECIFIC CHALLENGES, ISSUES AND CONCERNS (TOP 5)	REMARKS ACTIONS TAKEN, PROPOSED STRATEGIES, INNOVATIONS OR IMPROVEMENTS
Unsustainable and illegal fishing practices	-Coordination with other agencies such as BFAR, PNP Maritime, PCG and LGU during monitoring -Conduct of Communication, Education and Public Awareness (CEPA) -Support the implementation of livelihood projects that seek to use the resources sustainably or that enhance an interest in resource conservation. -Coordination with LGU Mabini to delineate fishing grounds and reinstallation of marker buoys in SPZ where fishing is prohibited.
Siltation	-Coordination with the LGU Mabini and other government agencies involved in resource use and conservation in and adjacent to the protected area, and participate in land use meetings to address this matter and mitigate the siltation in MPLS.
Presence of Bunsods (Fish traps)	Hold a technical conference for the proponents, in collaboration with the agencies responsible for permits approval
Illegal Structures	Daily monitoring, issuance of NOVs, CDOs, and execution of Self-demolition
Human economic activities	Stricter land-use policies

LIST OF REFERENCES

PA Management Plan (2020-2029); SRPAO/SEAMS (2025); BAMS (2024); BMS (2025); Impact Monitoring of Ecotourism Activities (CY 2024); ***DAO 2019-09****: Updated National List of Threatened Fauna ;* ***DAO 2017-11****: Updated National List of Threatened Philippine Plants and their Categories; and IUCN List of Threatened Species*